Chicago Eviction Analysis

Group Members:
Sophia Chen (Tuesday/Thursday 11:00 AM Section, 'yanjiec-1')
Ziyun Wu (Monday/Wednesday 10:30 AM Section, 'Zianawu')

1. Research Question: This project examines eviction filing patterns across Chicago census tracts. We ask whether eviction filing rates are higher in neighborhoods with lower incomes and higher minority shares, and whether high filing rates cluster geographically within the city.
2. Data and Approach

2.1 Data collection: We combined multiple tract-level datasets for 2019. Eviction filings and tract-level eviction rates come from the Chicago Evictions dataset. Median household income is drawn from the American Community Survey (ACS). We also use 2019 Census tract boundaries (TIGER/Line shapefile) to support tract-level mapping.

2.2 Data cleaning and merging: Using Python and pandas, we cleaned the datasets, standardized tract identifiers (GEOID/tract code), and merged sources into a single tract-level analytic table. In code, the main steps include reading each raw file, ensuring tract identifiers are consistent as strings, dropping or flagging missing values in key variables, and performing left/inner joins so that each tract record contains both eviction outcomes and neighborhood characteristics.

2.3 Constructing key measures: We calculate an eviction filing rate at the tract level for 2019, defined as eviction filings divided by renter households (expressed as a percentage). We use median household income and minority share as primary neighborhood characteristics. We treat poverty-related measures as supporting context rather than a separate parallel analysis, since income and poverty capture similar dimensions of disadvantage and are strongly correlated. We also note that rates can be unstable for tracts with very small renter-household denominators, which motivates a denominator-based stability filter in the dashboard.

2.4 Visualization and analysis: To answer the research question, we created a set of static visualizations and an interactive Streamlit dashboard. The static figures summarize spatial clustering, the relationship between eviction rate and income, differences across minority-share groups, and the highest-rate tracts. The dashboard is designed to go beyond the static plots

by enabling interactive subgroup comparison, variable switching, and diagnostic checks for extreme values.

3. Results from Static Visualizations

3.1 Spatial concentration: The choropleth map shows that higher eviction filing rates are concentrated in parts of the South and West sides of Chicago, while many North Side tracts fall into lower-rate groups. This indicates that eviction filings are spatially clustered rather than evenly distributed across the city.

3.2 Income relationship: The scatter plot shows a clear negative relationship between eviction filing rate and median household income. Lower-income tracts tend to have higher eviction filing rates, while higher-income tracts generally have lower rates. This pattern is consistent even with variation across individual tracts.

3.3 Minority-share quartiles: The boxplot groups tracts into quartiles by minority share and compares eviction filing rates across those groups. Tracts in the highest minority-share quartile have higher eviction filing rates than tracts in the lowest quartile, suggesting eviction pressure is associated with economic disadvantage and patterns of neighborhood inequality.

3.4 Highest-eviction tracts: The hotspot ranking lists the tracts with the highest eviction filing rates and summarizes their neighborhood characteristics. Many of these tracts also have lower incomes and higher minority shares than the citywide baseline. This ranking makes the map results more actionable by identifying tracts where eviction filing pressure is most severe.

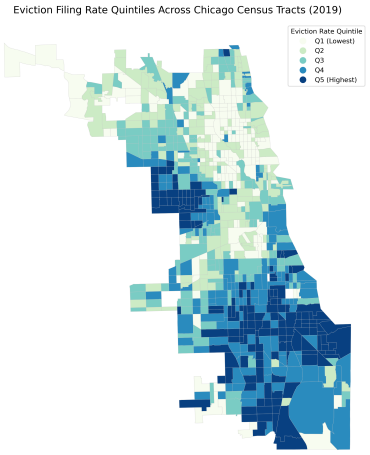

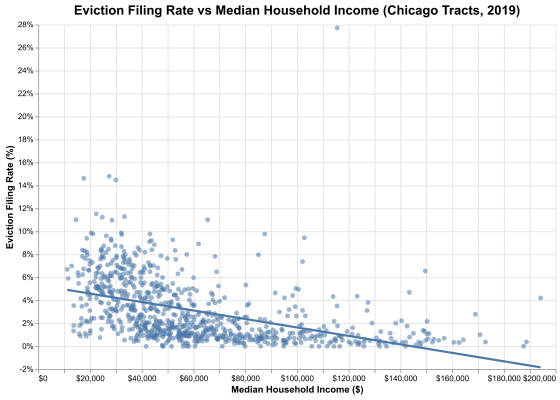

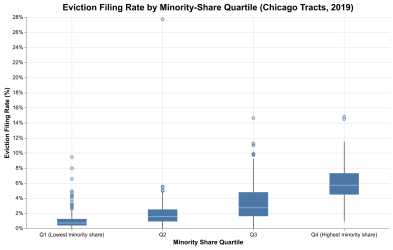

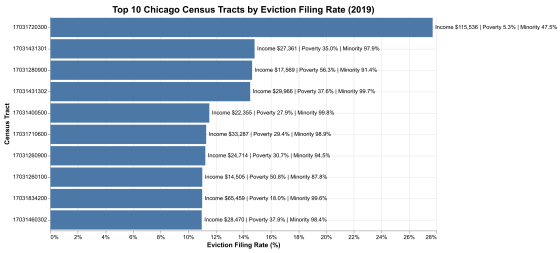

4. Interactive Dashboard (Streamlit App)

We developed a Streamlit dashboard to support exploratory analysis beyond the static figures. The dashboard includes:

- An interactive tract-level map of eviction filing rates that updates with user-selected filters.
- An interactive scatter plot where users can switch the x-axis variable across median household income, poverty rate, and minority share. This reduces redundancy across separate plots and lets users compare relationships using the same interface.
- A table of top tracts by eviction filing rate for the currently filtered subset.
- Filters designed for subgroup comparison and interpretability, including income range and minority share range. We use a minority-share range rather than a one-sided cutoff to support direct comparison between low- and high-minority neighborhoods.
- A minimum renter-households filter (default: 200) uses renter households as the denominator of the eviction filing rate and improves stability by reducing the influence of very small denominators that can inflate rates.
- An "extreme tract check" that identifies the tract with the maximum observed eviction filing rate (around 28%). The dashboard displays this tract's filings count and renter-household denominator so users can interpret unusually high rates more carefully.

Overall, the dashboard provides added analytic value by supporting subgroup exploration, variable switching, and extreme-value diagnostics, rather than simply reproducing the static plots.

5. Policy Implications: Because the analysis is descriptive, we do not claim tract characteristics cause eviction filings. However, the hotspot ranking and the dashboard identify where filing rates are most concentrated and can support targeting and prioritization. Agencies and community organizations could use the identified high-rate tracts to help prioritize tenant legal aid outreach, eviction diversion programs, and other housing-stability resources. The tract list also provides a starting point for follow-up monitoring and local context review.

6. Limitations or Challenges: This analysis is descriptive and cannot establish causal effects. We focus on 2019 only, which provides a clear snapshot but does not capture time dynamics. Eviction filings are not the same as completed evictions, so filings may overstate displacement. We also rely on tract-level measures (including ACS estimates) that carry sampling error and may not reflect within-tract variation. Finally, while the dashboard supports exploration and diagnostics, conclusions remain constrained by the scope and measurement limits of the underlying data.